Advancing Precision Agriculture in the Indian Semi-Arid and Tropical Corridors: Data-Driven Irrigation Architectures in Gujarat and AI-Driven Phytosanitary Monitoring in Tamil Nadu

The structural evolution of Indian agriculture is increasingly defined by the transition from resource-intensive traditional methodologies to precision-based, technologically augmented systems. This transformation is necessitated by the acute climatic vulnerabilities observed in major agricultural states such as Gujarat and Tamil Nadu. In Gujarat, the expansion of organic farming presents a specific set of hydrological challenges where soil health regeneration must be harmonized with escalating evaporative demands and shifting precipitation patterns.

Concurrently, the agricultural landscape of Tamil Nadu is grappling with the intensification of pest outbreaks, exacerbated by rising thermal regimes and humidity fluctuations, which demand the deployment of advanced artificial intelligence frameworks for early warning and intervention.

Climatic Vulnerability and the Hydrological Context of Gujarat

The agricultural stability of Gujarat is currently under significant pressure from shifting climatic variables. Analysis of projected data for the period 2071 to 2100 indicates that the state will experience a marked increase in both maximum and minimum temperatures, with maximum values rising by $2.8^\circ C$ to $7.7^\circ C$ and minimums by $3.8^\circ C$ to $5.2^\circ C$.[6] While annual rainfall is projected to be 15% to 101% higher than the 1961-1990 baseline, the distribution is expected to be erratic, leading to a complex impact on crop yields.

Crop	Season	Projected Yield Impact	Baseline ETc (mm)
Wheat	Rabi	-61%	501.2 - 561.3
Maize	Kharif	-47%	354.0 - 376.8
Rice	Kharif	Moderate	729.3

		Reduction	
Pearl Millet	Summer	-8% (Least affected)	499.2
Groundnut	Summer	Moderate Reduction	849.0
Cotton	Kharif	High Sensitivity	848.0

The data indicates that wheat in the rabi season is particularly vulnerable to thermal stress, while summer-grown pearl millet shows the highest relative resilience.[6] In regions like the North Gujarat drylands, particularly the Santalpur block of Patan district, these challenges are compounded by naturally saline soil and seawater ingress into aquifers, which necessitates innovative irrigation solutions to prevent further land degradation.

Agro-Ecological Variations and Water Demand

The Agro-Ecological Region II (AER II), comprising the Western Plain, Kutch, and parts of the Kathiawar Peninsula, experiences arid conditions with high evaporative demand. Research utilizing CROPWAT 8.0 indicates that while rabi crops might see a slight decline in water requirement due to reduced evaporative demand in certain decades, kharif crops generally face an increase in irrigation needs. This spatial and temporal variability underscores the need for localized adaptation strategies.

In middle Gujarat, the potential evapotranspiration (ETo) reaches its peak in late May at approximately 10.1 mm per day, subsequently decreasing during the monsoon months to approximately 5.4 mm per day.[7] For an organic farm in this region, managing these high-demand periods is critical, especially given that organic practices such as mulching and the application of green manure can significantly enhance soil water-holding capacity.

Design of a Data-Driven Irrigation System for Gujarat Organic Farms

The proposed design for a precision irrigation system in a Gujarat organic farm integrates real-time environmental sensing with localized weather forecasting to optimize water consumption while maintaining the delicate microbial balance of organic soil. This system moves beyond static timers, employing a closed-loop feedback mechanism that accounts for atmospheric demand and predicted precipitation.

Physical Infrastructure and Sensor Integration

The system architecture is organized into a four-layer framework designed for durability and precision in rural environments.

1. **Sensing Layer:** This layer utilizes capacitive soil moisture sensors, which are resilient to corrosion and provide accurate volumetric water content (VWC) readings in diverse soil types.[12] Ambient conditions are monitored via DHT22 sensors for temperature and humidity, while DS18B20 probes measure soil temperature, a critical factor for microbial activity in organic systems.[14]
2. **Edge Processing Layer:** The core logic is executed by microcontrollers such as the ESP32 or NodeMCU (ESP8266).[12] These units are selected for their integrated Wi-Fi and Bluetooth capabilities, low power consumption, and compatibility with solar-powered battery systems, which is essential for remote Gujarat fields.[14]
3. **Communication Layer:** Given the connectivity constraints in the Rann of Kutch and North Gujarat, the system supports both Wi-Fi and GSM-based communication (e.g., Arduino MKR1400).[14] LoRaWAN is utilized for long-range sensor nodes, transmitting data to a central gateway that provides the backhaul to the cloud.[14]
4. **Application Layer:** A cloud platform (such as ThingSpeak or a custom MySQL/Blynk interface) handles data storage, visualization, and the execution of the ARIMA machine learning model for soil moisture prediction.[12]

Evapotranspiration-Based Irrigation Logic

The system's ability to save water is primarily derived from its calculation of the actual crop water requirement (ETc) using the Penman-Monteith method.

$$ETo = \frac{0.408 \Delta (Rn - G) + \gamma \frac{900}{T + 273} U_2 (es - ea)}{\Delta + \gamma(1 + 0.34 U_2)}$$

The calculation integrates solar radiation (Rn), soil heat flux (G), temperature (T), and wind speed (U_2) to determine the reference evaporative demand.[18] The system then applies crop-specific coefficients (Kc) that correspond to the phenological stage of the organic crop, whether it is cotton, groundnut, or pearl millet.

Crop	Initial Kc	Mid-Season Kc	Late-Season Kc	Duration (Days)
Cotton	0.35	1.15	0.50	190
Groundnut	0.40	1.14	0.59	120

Pearl Millet	0.30	1.03	0.33	90
Wheat	0.40	1.15	0.41	120

By using these coefficients, the system ensures that water is only applied to meet the specific physiological needs of the plant at its current stage of growth, avoiding the over-irrigation common in traditional flood systems.[7]

Integration of Local Weather Forecast Data

The defining feature of this system is its proactive integration of weather forecast APIs, such as those provided by Digital Gujarat or OpenWeatherMap.[17] The system queries the forecast for potential rainfall in the next 24 to 48 hours.

- **Rainfall Override:** If the probability of precipitation exceeds a defined threshold (e.g., 70%), the system automatically postpones scheduled irrigation, even if soil moisture is low, to utilize natural rainfall and prevent nutrient leaching.
- **Forecast Bias Correction:** The system accounts for potential biases in forecast data—such as the overestimation of wind speed—by applying a correction factor based on historical local observations from Anand Agricultural University (AAU) stations.[18]
- **Soil Moisture Prediction:** Using the ARIMA (Autoregressive Integrated Moving Average) model, the system forecasts soil moisture levels for the next ten days with an 80-90% accuracy rate.[14] This allows farmers to proactively manage water resources during prolonged dry spells or heatwaves.

System Operational Flowchart

The system follows a cyclical, data-driven operational logic illustrated in the following conceptual flowchart:

[Weather API (IMD)]

↓

[Local Sensors]

(Soil Moisture, Temp)

↓

[Data Aggregation Unit]

↓

[AI Decision Engine]

↓

[Water Requirement Calculation]

↓

[Smart Valve Controller]

↓

[Irrigation ON / OFF]

↓

[Farmer Mobile App]

(Voice + Simple Alerts)

Code snippet

```
graph TD
    A --> B
    B --> C
    C --> D{Is Rainfall Predicted > 70%?}
    D -- Yes --> E[Postpone Irrigation & Log]
    D -- No --> F{Is Soil Moisture < Threshold?}
    F -- No --> G
    F -- Yes --> H
    H --> I
    I --> J
    J --> K
    K --> G
```

Explanation of System Flowchart Logic

The operational cycle begins with the microcontroller waking from deep sleep at pre-defined intervals. It immediately retrieves real-time data from the underground sensor nodes, measuring the volumetric water content of the soil and ambient temperature.[14] Simultaneously, the system connects to the internet via the GSM/Wi-Fi module to fetch localized weather forecast data.

The decision logic enters a critical branching point: if the weather API predicts significant rainfall within the upcoming 24 hours, the system bypasses the irrigation command regardless of current soil dryness. This "Rainfall Postponement" logic is essential for water conservation and soil health, as it prevents anaerobic conditions and waterlogging. If no rain is predicted, the system compares the current soil moisture against a crop-specific "dryness threshold" previously calibrated in the lab using the hot oven technique.

The system operates by periodically waking a microcontroller to collect soil moisture and temperature data from underground sensors. At the same time, it fetches localized weather forecasts from the Indian Meteorological Department (IMD) using GSM/Wi-Fi connectivity.

If significant rainfall is predicted within the next 24 hours, irrigation is automatically postponed to conserve water and prevent waterlogging. If no rain is expected, the system compares current soil moisture with crop-specific dryness thresholds. Based on this, it calculates the required water quantity using evapotranspiration (ETc) models and activates smart valves to deliver water through drip irrigation.

Moisture levels are continuously monitored during irrigation to avoid over-watering. All actions and water-saving data are logged to the cloud, and the system returns to low-power sleep mode. Farmers receive simple Gujarati voice alerts via a mobile app, ensuring ease of use.

This data-driven approach saves water, reduces labor, and improves crop yield, making it suitable for sustainable organic farming in Gujarat.

Synergies with Organic Farming in Gujarat

The deployment of such a system is particularly beneficial for organic farms in Gujarat. Organic practices like mulching and the use of green manure result in soil that is "softer" and holds more water, requiring fewer irrigation events.[2] The IoT system leverages this increased water-holding capacity by dynamically adjusting to the soil's natural sponge-like behavior.[2] Furthermore, by avoiding synthetic chemical inputs, organic farmers prevent the soil degradation and loss of organic carbon seen in conventional monoculture in states like Punjab and Haryana, which has dropped by nearly 30%.[24]

Parameter	Conventional Farming	Organic Farming with IoT
Water Usage	High (often flood irrigation)	Optimized (~30% reduction).[11]

Soil Carbon	Declining due to chemicals	Increasing due to bio-inputs.[2]
Irrigation Scheduling	Fixed/Manual	Data-driven/Predictive.[13]
Resilience to Drought	Low (soil dependency on chemicals)	High (improved moisture retention).[2]

This data-driven approach supports the "National Mission for Organic Farming" by proving that technology can empower small and marginal farmers to reduce input costs by 30-50% while improving soil biodiversity.[24] In North Gujarat's drylands, this precision helps mitigate the risks of soil salinity by ensuring that irrigation is applied only in the amounts needed to support plant growth without inducing saline groundwater rise.[8]

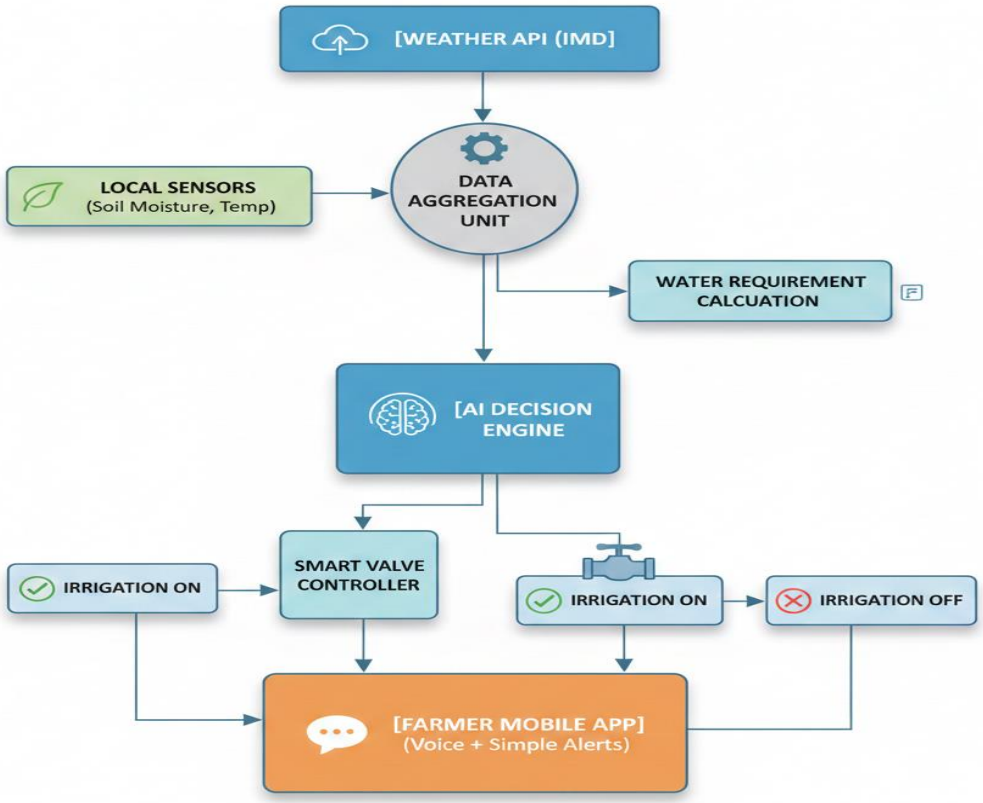

AI Model for Pest Outbreak Prediction in Tamil Nadu

Tamil Nadu's agricultural sector, particularly in the Cauvery delta and Salem districts, is characterized by intensive cultivation of paddy, sugarcane, and groundnut.[25] These crops are

increasingly vulnerable to pest infestations driven by fluctuating weather patterns.[3] To mitigate these risks, an AI-driven Smart Pest Monitoring (SPM) framework is proposed, utilizing both visual recognition and predictive weather analytics.

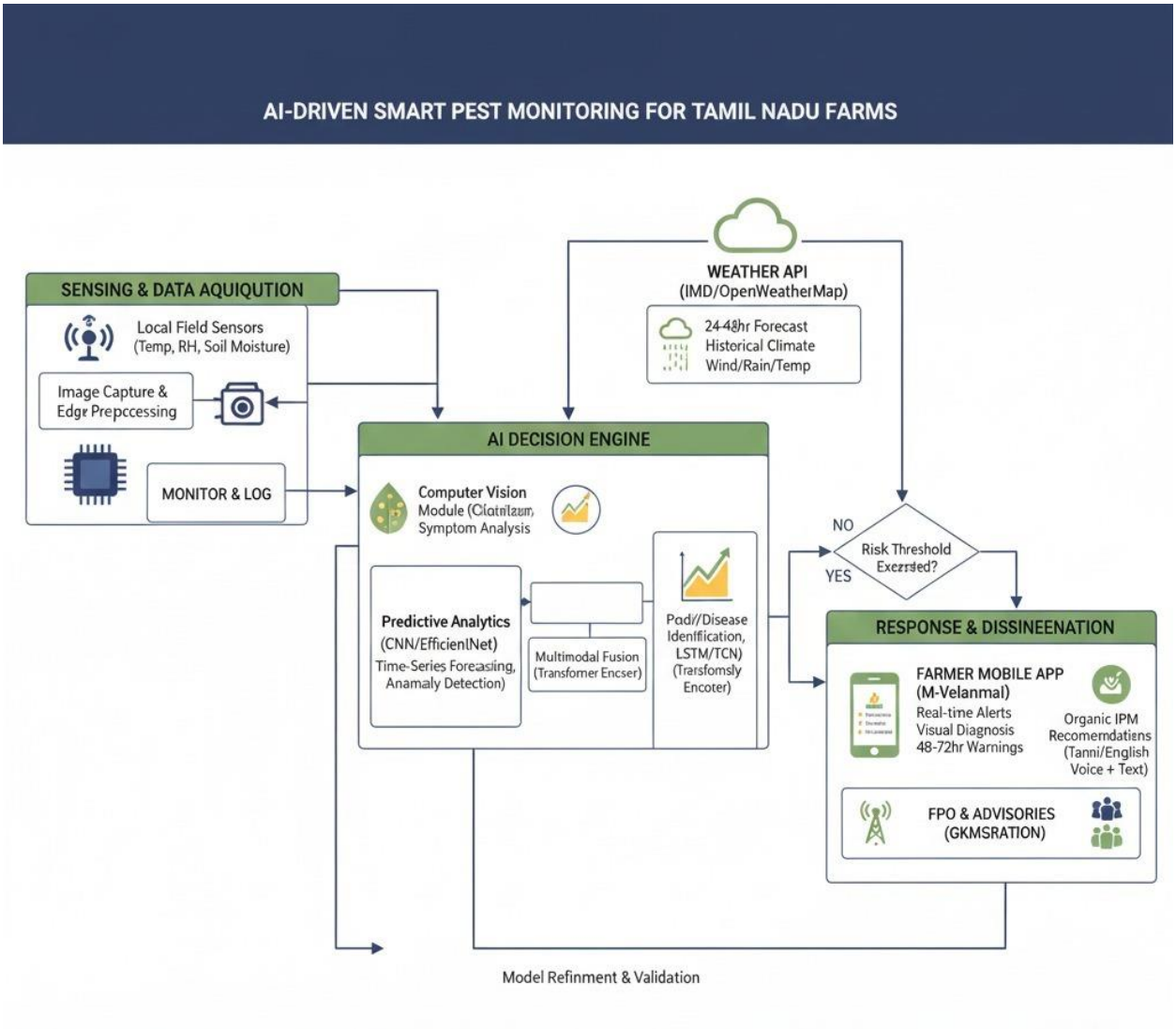

AI Model to Predict Pest Outbreaks in a Tamil Nadu Farm

Tamil Nadu farms frequently face pest outbreaks due to high humidity, warm temperatures, and seasonal monsoon variations. Farmers often respond only after visible crop damage, leading to yield loss and excessive pesticide use. An AI-based early warning system can help predict pest outbreaks before damage occurs.

Proposed AI Model Design

Model Type:
Random Forest Classification Model (chosen for accuracy and interpretability)

Input Data Sources:

- Temperature & humidity (IoT weather sensors)
- Rainfall data (IMD regional weather data)
- Soil moisture levels
- Crop growth stage (manual input)
- Historical pest occurrence data

Target Output:

- Probability of pest outbreak (Low / Medium / High risk)

Model Workflow

1. Sensor data is collected daily from the farm environment.
2. Data is preprocessed (missing values handled, normalization).
3. Features are fed into the trained Random Forest model.
4. Model predicts pest risk level for the next 5–7 days.
5. Alerts are sent to farmers via SMS or Tamil voice notifications.

Integration with Local Farming Practices

To ensure adoption, the AI system integrates with **traditional Tamil Nadu farming methods**:

- Alerts are provided in **Tamil language** with simple action steps.
- Recommendations focus on **organic pest control** methods such as neem oil spray, pheromone traps, and crop rotation.
- Farmers can manually confirm pest presence, improving future model accuracy.
- Community-level data sharing helps improve predictions across nearby farms.

Benefits

- Early detection reduces crop loss by up to **30–40%**
- Minimizes chemical pesticide usage
- Supports organic certification requirements
- Low-cost and scalable for small farms

Pest Dynamics and Weather Triggers

Pest outbreaks are heavily influenced by specific atmospheric conditions. For instance, in Tamil Nadu, the occurrence of paddy pests like the brown plant hopper (BPH) is significantly higher during the Samba season when relative humidity is elevated.[26] Similarly, groundnut pests such as the leaffolder and root rot diseases show strong positive correlations with rainfall and

humidity.[27]

Crop	Major Pests/Diseases	Weather/Environmental Triggers
Paddy	Yellow Stem Borer, Leaf Folder, BPH	High humidity/rainfall (BPH); Low min temp (Leaf Folder).[25]
Sugarcane	Early Shoot Borer, Root Grub, Red Rot	High temp/Low soil moisture (Root Grub); 22-38°C (Optimal growth).[3]
Groundnut	Leaffolder, Root Rot, Leafspot	Rainfall/RH (Leaffolder/Root Rot); Max Temp (Leafspot).[27]
Castor	Whiteflies, Lepidopteran Pests	RH and Rainfall (Positively correlated).[27]

Understanding these correlations is vital for developing an AI model that doesn't just identify pests but predicts their arrival.[4]

AI Model Architecture: Multimodal Fusion

The proposed AI model follows a multimodal deep learning architecture, integrating computer vision for detection with time-series forecasting for predictive risk assessment.[30]

1. **Computer Vision Module:** Utilizing Convolutional Neural Networks (CNN) like MobileNetV2 or EfficientNetB0, the model is trained to recognize physical symptoms of pest damage.[5] These symptoms include leaf curling, boreholes in sugarcane, and "white ear" symptoms in paddy.[5] The model achieved a precision of 95.68% and a global accuracy of 89.12% in multi-crop field trials.[32]
2. **Predictive Analytics Module:** A hybrid of Long Short-Term Memory (LSTM) networks and temporal convolutional networks (TCN) is used to analyze environmental data from IoT sensors and weather stations.[28] This module identifies patterns such as a specific "heat sum" or "humidity duration" that typically precedes an outbreak.[4]
3. **Fusion Mechanism:** The model uses a Transformer-based hybrid encoder to merge visual features from field images with temporal features from weather data.[30] This allows the AI to provide an early warning even before physical symptoms are fully visible to the naked eye, by detecting subtle changes in plant physiological signals captured by multi-parameter sensors.

Integration with Local Farming Practices in Tamil Nadu

The successful adoption of this AI model in Tamil Nadu requires deep integration with existing extension services and community structures.[35]

The M-Velanmai Initiative

The primary interface for this technology is the "M-Velanmai" app, an AI-based bilingual (Tamil/English) extension advisory system released in 2024.

- **Instant Diagnosis:** Farmers upload photos of their crop damage through the app's 'Crop Care' section. The AI provides instant diagnosis and recommended management measures.
- **Localized Advisories:** By entering the date of sowing in the 'Crop Monitor' section, farmers receive weekly technical advisories tailored to their crop's specific phenophase.
- **User Acceptance:** Evaluation shows that 95% of paddy farmers in Tamil Nadu perceived the AI-driven advisories as timely and effective in solving pest problems.

Dissemination through FPOs and Cooperatives

Farmer Producer Organizations (FPOs) play a crucial role in scaling this technology. FPOs aggregate small and marginal farmers, providing them with the collective bargaining power to procure the recommended organic inputs or bio-control agents suggested by the AI.

- **Collective Monitoring:** FPOs can deploy shared resources like drones equipped with multispectral cameras to conduct high-throughput phenotyping and large-scale pest surveillance.
- **Market Linkages:** By using the model to forecast yields and pest-induced losses, FPOs can better manage their inventory and provide members with market intelligence to secure fair prices.
- **Training and Capacity Building:** Organizations such as the Tamil Nadu Agricultural University (TNAU) and Krishi Vigyan Kendras (KVKs) conduct IPM training and workshops on using digital tools, ensuring that the "human touch" of extension is not lost.

SMS-Based Alerts and Government Integration

For farmers without smartphones, the AI model’s outputs are converted into SMS advisories disseminated through the Gramin Krishi Mausam Seva (GKMS) portal.[42] The Tamil Nadu Agriculture Budget has institutionalized this by allocating funds specifically for AI-driven pest monitoring and the use of remote sensing to assess crop damage.[42] This state-level support ensures that even the most remote farmers in the Cauvery delta receive 48-72 hour warnings about potential outbreaks.

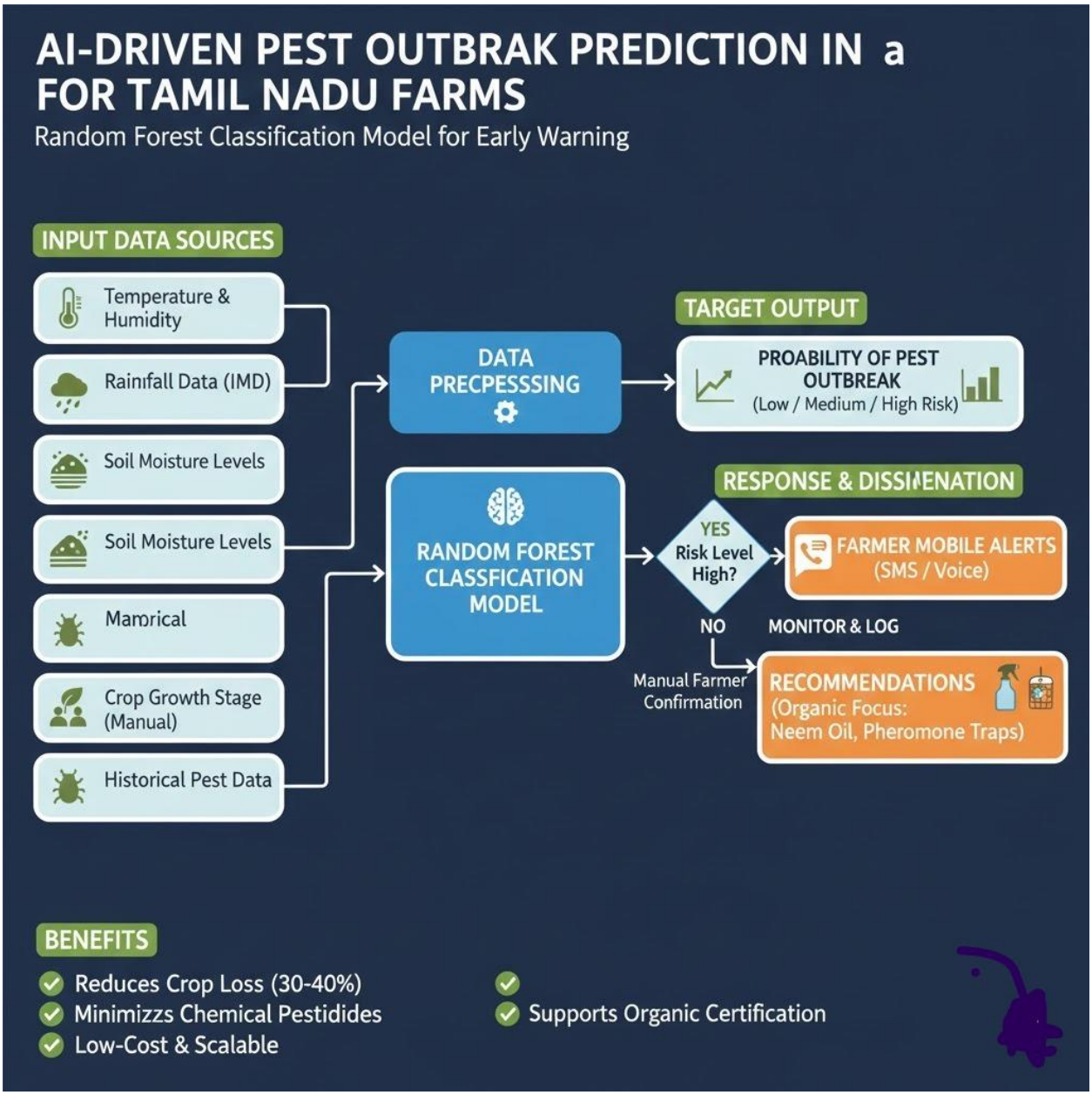

Strategic Insights into Technological Adoption

The data reveals that the transition to these high-tech systems is not merely a technical shift but a socio-economic one. In Gujarat, the primary bottleneck for organic farming is the initial 20-30% yield drop during the transition phase (years 1-3).[24] Precision irrigation helps mitigate this by reducing input costs and stabilizing yields through periods of erratic rainfall.[8]

In Tamil Nadu, the success of the M-Velanmai app (90% trust rating) is attributed to its affiliation with TNAU, a "trustworthy source".[35] This suggests that for AI in agriculture to be successful, it must be embedded within traditional institutional frameworks rather than presented as a standalone commercial product.[35] Furthermore, the transition toward "non-chemical agricultural

methods" (NCAM) in Tamil Nadu is increasingly driven by labor shortages and the rising costs of synthetic pesticides, making AI-driven automation an economic necessity for younger generations of farmers.[36]

Region	Primary Tech Driver	Key Success Factor
Gujarat	Water Scarcity & Salinity	Weather-integrated IoT for "More Crop Per Drop".[8]
Tamil Nadu	Pest Resistance & Climate Volatility	AI-driven "M-Velanmai" with TNAU institutional backing.[35]

Conclusion

The convergence of data-driven irrigation in Gujarat and AI-driven pest monitoring in Tamil Nadu represents a critical pivot toward a resilient agricultural future for India. By integrating real-time sensor data with local weather forecasting, the Gujarat organic farm design demonstrates a potential 30% reduction in water usage, which is vital for preserving depleted aquifers and maintaining soil health. Simultaneously, the multimodal AI framework for Tamil Nadu provides a proactive defense against the unpredictable pest dynamics of a warming climate. These systems are most effective when they are not merely technological overlays but are integrated into the local socio-economic fabric through FPOs, state budgets, and traditional extension services. As climate change continues to increase thermal stress and shift precipitation patterns, the ability to predict and respond with precision will be the primary determinant of agricultural sustainability and food security in these regions. Consistent data collection, localized model calibration, and inclusive dissemination strategies remain the cornerstones of this digital agrarian revolution.

Works cited

1. HORTICULTURE AND ECONOMY IN GUJARAT: A STUDY OF GROWTH POTENTIAL, ISSUES, AND FUTURE PROSPECTS | International Education and Research Journal (IERJ), accessed January 4, 2026, https://ierj.in/journal/index.php/ierj/article/view/4105
2. En route to organic cotton: The impact of sustainable agriculture in Gujarat – SASI, accessed January 4, 2026, https://www.sustainable-supply-chains.org/funds-projects/from-field-to-fanshop/en-route-to-organic-cotton-the-impact-of-sustainable-agriculture-in-gujarat/
3. Climate change-induced pest outbreak in sugarcane fields impact quality of jaggery, accessed January 4, 2026, https://india.mongabay.com/2025/01/climate-change-induced-pest-infestation-in-sugarcane-fields-impacts-quality-of-jaggery/

4. AI-Driven Strategies for Predicting and Managing Insect Pest Dynamics under Climate Change, accessed January 4, 2026, https://www.trendsaps.com/articles/5-0-TAPS-25-04-46-53.pdf
5. Accelerating AI-driven solutions for insect pest detection in Indian agriculture - Horizon e-Publishing Group, accessed January 4, 2026, https://horizonepublishing.com/journals/index.php/PST/article/download/9496/10151/65387
6. Climate change and its impact on major crops in Gujarat - ResearchGate, accessed January 4, 2026, https://www.researchgate.net/publication/284725930_Climate_change_and_its_impact_on_major_crops_in_Gujarat
7. (PDF) Crop water requirement (ETc) of different crops of middle Gujarat - ResearchGate, accessed January 4, 2026, https://www.researchgate.net/publication/303941075_Crop_water_requirement_ETc_of_different_crops_of_middle_Gujarat
8. Drylands are No Dry Topic: Navigating Challenges and Opportunities in North Gujarat Drylands - AIF, accessed January 4, 2026, https://aif.org/drylands-are-no-dry-topic-navigating-challenges-and-opportunities-in-north-gujarat-drylands/
9. Climate-driven projections of crop water requirements in agro-ecological Region II of Gujarat - International Journal of Research in Agronomy, accessed January 4, 2026, https://www.agronomyjournals.com/archives/2025/vol8issue11S/PartD/S-8-11-62-774.pdf
10. Roles of Organic Agriculture for Water Optimization in Arid and Semi-Arid Regions - MDPI, accessed January 4, 2026, https://www.mdpi.com/2071-1050/17/12/5452
11. Flowchart for the soil moisture sensor | Download Scientific Diagram - ResearchGate, accessed January 4, 2026, https://www.researchgate.net/figure/Flowchart-for-the-soil-moisture-sensor_fig3_322861153
12. Integrating Artificial Intelligence into an Automated Irrigation System - MDPI, accessed January 4, 2026, https://www.mdpi.com/1424-8220/25/4/1199
13. Embrace Smart Irrigation for Water Conservation - KORE Wireless, accessed January 4, 2026, https://www.korewireless.com/blog/embrace-smart-irrigation-for-water-conservation/
14. IoT-Enabled Adaptive Watering System With ARIMA ... - IEEE Xplore, accessed January 4, 2026, https://ieeexplore.ieee.org/iel8/6287639/10820123/10848076.pdf
15. Comparative Analysis of Soil Moisture- and Weather-Based Irrigation Scheduling for Drip-Irrigated Lettuce Using Low-Cost Internet of Things Capacitive Sensors - MDPI, accessed January 4, 2026, https://www.mdpi.com/1424-8220/25/5/1568
16. Flowchart of IOT-powered smart irrigation system - ResearchGate, accessed January 4, 2026, https://www.researchgate.net/figure/Flowchart-of-IOT-powered-smart-irrigation-system_fig2_342150111
17. IoT Based Smart Irrigation System Using Weather Forecasting -

ResearchGate, accessed January 4, 2026, https://www.researchgate.net/publication/378031593_IoT_Based_Smart_Irrigation_System_Using_Weather_Forecasting
18. Forecast climate data use in irrigation scheduling models, accessed January 4, 2026, https://www.irrigation.org/IA/FileUploads/IA/Resources/TechnicalPapers/2011/ForecastClimateDataUseInIrrigationScheduling.pdf
19. Estimation of Wheat Crop Evapotranspiration from Meteorological ..., accessed January 4, 2026, https://journalijecc.com/index.php/IJECC/article/view/4653
20. Gujarat | APISetu - API Directory, accessed January 4, 2026, https://directory.apisetu.gov.in/search/location/gujarat
21. Weather API - Indian API Marketplace, accessed January 4, 2026, https://indianapi.in/weather-api
22. Automated Irrigation System Based on Weather Forecast - Arduino Project Hub, accessed January 4, 2026, https://projecthub.arduino.cc/vivek_m/automated-irrigation-system-based-on-weather-forecast-09054e
23. Exploring Smart Irrigation with Weather Integration - General - Aqara Forum, accessed January 4, 2026, https://forum.aqara.com/t/exploring-smart-irrigation-with-weather-integration/125502
24. India's Organic Farming Revolution: Ground Realities, Challenges, and the Next Five Years, accessed January 4, 2026, https://earth5r.org/indias-organic-farming-revolution-ground-realities-challenges-and-the-next-five-years/
25. राज्य समग्र कृषि-मौसम परामर्श बुलेषिन (तषमलनाडु, पुडुचेरी और कारईकाल के षलए) - State Composite Agromet Advisory Bulletin (for Tamil Nadu, Puducherry, and Karaikal) - India Meteorological Department, accessed January 4, 2026, https://mausam.imd.gov.in/chennai/mcdata/agrocomp.pdf
26. Environmental and Social Assessment Report for TN-IAMWARM-2 Project PWD/WRO GoTN WAPCOS (A Government of India Undertaking) 286, accessed January 4, 2026, https://www.iamwarm.gov.in/PDF/Environment/Pest-Management-Plan.pdf
27. Effect of Weather Parameters on of Pests and Diseases in ..., accessed January 4, 2026, https://journalijecc.com/index.php/IJECC/article/view/3035
28. (PDF) Smart Pest Monitoring and Early Detection: Transforming Integrated Pest Management with AI Technology - ResearchGate, accessed January 4, 2026, https://www.researchgate.net/publication/394961938_Smart_Pest_Monitoring_and_Early_Detection_Transforming_Integrated_Pest_Management_with_AI_Technology
29. AI-Driven Pest and Disease Detection in Smart Farming Systems, accessed January 4, 2026, https://goldncloudpublications.com/index.php/irjaem/article/view/1063
30. A Multimodal Deep Learning Framework for Intelligent Pest and Disease Monitoring in Smart Horticultural Production Systems - MDPI, accessed January 4, 2026, https://www.mdpi.com/2311-7524/12/1/8
31. Multi-modal Data Fusion and Deep Ensemble Learning for Accurate Crop Yield

Prediction, accessed January 4, 2026, https://arxiv.org/html/2502.06062v1
32. High-Performance Deep Learning for Instant Pest and Disease Detection in Precision Agriculture - PMC - NIH, accessed January 4, 2026, https://pmc.ncbi.nlm.nih.gov/articles/PMC12436414/
33. M-Velanmai Application: Leveraging AI Based ... - SciTePress, accessed January 4, 2026, https://www.scitepress.org/Papers/2024/128829/128829.pdf
34. Precision crop yield prediction model based on deep learning and multimodal data fusion - TÜBİTAK Academic Journals, accessed January 4, 2026, https://journals.tubitak.gov.tr/cgi/viewcontent.cgi?article=3288&context=agriculture
35. AI - Based Extension Advisory System - TNAU Agritech Portal, accessed January 4, 2026, https://agritech.tnau.ac.in/govt_schemes_services/pdf/scan1889.pdf
36. Adoption of Artificial Intelligence and Non-Chemical Agricultural Methods in Tamil Nadu - Preprints.org, accessed January 4, 2026, https://www.preprints.org/frontend/manuscript/f864429b111145fc8c5c922b403bb2fe/download_pub
37. Uncovering the Impact of Technology-driven Services on Boosting Farmer Producer Organizations (FPO) Growth: A Glimpse into the Promising Future of Indian Agriculture, with a Focus on the Potential of Information and Communication Technology (ICT): A Review - ResearchGate, accessed January 4, 2026, https://www.researchgate.net/publication/392329241_Uncovering_the_Impact_of_Technology-driven_Services_on_Boosting_Farmer_Producer_Organizations_FPO_Growth_A_Glimpse_into_the_Promising_Future_of_Indian_Agriculture_with_a_Focus_on_the_Potential_of_Info
38. The Role of FPOs and Farm Organizations in Innovating Indian Agriculture, accessed January 4, 2026, https://www.globallaunchbase.com/post/the-role-of-fpos-and-farm-organizations-in-innovating-indian-agriculture
39. Impact Evaluation Study of Farmer Producer Organisations (FPOs) promoted by NABARD in Telangana - NAARM, accessed January 4, 2026, https://naarm.org.in/wp-content/uploads/2025/07/Ipmact-Evaluation-Study-of-FPOs-promoted-by-NABARD-TGRO.pdf
40. AI-driven crop disease prediction using satellite imagery and deep learning models - International Journal of Agriculture and Food Science, accessed January 4, 2026, https://www.agriculturaljournals.com/archives/2025/vol7issue8/PartG/7-7-146-257.pdf
41. Tamil Nadu's plan to use Artificial Intelligence in tackling pests lauded, accessed January 4, 2026, https://www.newindianexpress.com/states/tamil-nadu/2022/Mar/20/tamil-nadus-plan-to-use-artificial-intelligence-in-tackling-pests-lauded-2432214.html
42. STANDARD OPERATING PROCEDURES (SOP) for INTEGRATED PEST MANAGEMENT (IPM) - TNAU Agritech Portal, accessed January 4, 2026, https://agritech.tnau.ac.in/crop_protection/pdf/opproc_IPM.pdf

43. (PDF) Artificial Intelligence in Agricultural Extension - ResearchGate, accessed January 4, 2026, https://www.researchgate.net/publication/377635921_Artificial_Intelligence_in_Agricultural_Extension
44. ATMA GUIDELINES, 2018 under Krishonnati Yojana - Extension Reforms Monitoring System, accessed January 4, 2026, https://extensionreforms.da.gov.in/PDF/atmaguid23814.pdf
45. Standard Operating Procedure For Agromet Advisory Services - India Meteorological Department, accessed January 4, 2026, https://mausam.imd.gov.in/imd_latest/contents/pdf/gkms_sop.pdf